TABLES of ROUTES and DISTANCES from MOORSHEDABAD through the Principal INLAND NAVIGATIONS.

*** The Coſſimbuzar River being too ſhallow for Navigation during the dry Months, *Bogwangola*, (a Place ſituated on the Ganges $3\frac{1}{2}$ Hours Journey to the N. E.) becomes the *Port* of MOORSHEDABAD for all Embarkations to and from the Eaſt, Weſt, and North. At the ſame Time *Ballytunghy* on the Jellinghy River, and *Mirzapour* on the Hoogly River, ſerve for the ſame Purpoſes on the South. The former of theſe Places is ſituated 6 Hours, and the latter 14 Hours Journey from Moorſhedabad.

Bogwangola then being the principal Port of Moorſhedabad during the greateſt Part of the Year, it becomes neceſſary to adapt the Routes leading from Moorſhedabad as a Centre, to Bogwangola alſo. This is eaſily affected: For as all the Routes that lead weſtward from Moorſhedabad and Bogwangola, unite in one Point at the Head of the Coſſimbuzar River; and all thoſe that lead eaſtward paſs by Bogwangola itſelf; nothing more is required in the firſt Caſe, than to ſubtract from the Sum total of any Diſtance, the Number of Miles that the Route from Moorſhedabad to the Coſſimbuzar River Head, exceeds that from Bogwangola; which is 27: And, in the ſecond Caſe, to ſubtract 77 Miles, which is the whole Diſtance between Moorſhedabad and Bogwangola.

The Particulars of the Route from Bogwangola to the Head of the Coſſimbuzar River, will be found in Article 122.

N. B. The Diſtances in this Table are reckoned from Lolbaug Gaut.

MOORSHEDABAD TO

278.	ALLAHABAD, thro' Patna		
	By Mauldah - -	——	$669\frac{1}{4}$
	Rajemal - - -	——	$622\frac{1}{4}$
279.	ATTYAH. *See* 301.	——	$251\frac{1}{2}$
280.	AZMERIGUNE, through Dacca.		
	Wet Seaſon - - -	——	423
	Dry Seaſon - -	——	$412\frac{1}{2}$
281.	BACKERGUNGE.		
	R. Bogwangola, 290. - -	——	77
Tides.	R. *Hurryſongkor*, 318. -	$40\frac{1}{2}$	$117\frac{1}{2}$
Tides.	R. *Buderaſhon Creek*, 90.	$139\frac{1}{2}$	257
Tides.	Head Sutalury River, 46.	60	317
Tides.	R. Backergunge - -	$11\frac{1}{2}$	$328\frac{1}{2}$
282.	BALLYTUNGHY.	——	77
	R. Bogwangola, 290. - -	$34\frac{3}{4}$	$111\frac{3}{4}$
	R. *Jellingy*, 122. -	$44\frac{3}{4}$	$156\frac{1}{2}$
	R. *Ballytunghy*, 122. - -		
283.	BAULEAH.	——	
	R. Bogwangola, 290. -	$5\frac{1}{2}$	77
	L. *Curchuckra Point*. (No. XV.)	8	$82\frac{1}{2}$
	L. *Bauleah Gaut* - -		$92\frac{1}{2}$
284.	BELCUCHY, wet Seaſon.	——	178
	L. *Shazadpour*, 389. - -	28	206
	L. Belcuchy, 64. - -		
	Dry Seaſon, *Shazadpour*, 390	——	$309\frac{1}{4}$
	Belcuchy, 64. - -	28	$337\frac{1}{4}$
285.	BENARES, thro' Patna.		
	By Mauldah - -	——	$541\frac{1}{2}$
	By Rajemal -	——	$494\frac{1}{2}$
286.	BERNAGUR.	——	$7\frac{1}{4}$
287.	BETTYAH, thro' Patna.	——	$413\frac{1}{2}$
288.	BIRBOOM. *See* Nagore, 362. - -	——	$80\frac{1}{2}$
289.	BOGLIPOUR, Firſt Route by Mauldah.		
	Coſſimbuzar R. Head, 123.	——	52
	R. Caragola Gaut, 123. -	$130\frac{1}{2}$	$182\frac{1}{2}$
	L. Colgong, 122. - -	$19\frac{3}{4}$	$202\frac{1}{4}$
	L. BOGLIPOUR, 122. -	$20\frac{1}{2}$	$222\frac{3}{4}$
	Second Route, by Rajemal. Coſſimbuzar River Head as before - -	——	52
	L. Colgong, 122. - -	97	149
	L. BOGLIPOUR, 122. -	$20\frac{1}{2}$	$169\frac{1}{2}$
290.	BOGWANGOLA, Firſt Route.		
	Head Coſſimbuzar R. 123.	——	52
	R. *Bogwangola*, 122. -	25	77
	Second Route, by the Culcully River.		
	R. Jungipour, 123. - -	——	38
	L. Gareeah - - -	$3\frac{1}{2}$	$41\frac{1}{2}$
	R. *Comrah* - -	5	$46\frac{1}{2}$
	R. *Lolgola* - -	9	$55\frac{1}{2}$
	L. *Sankral* - - -	$6\frac{1}{2}$	62
	L. *Bogwangola* - -	$8\frac{1}{2}$	$70\frac{1}{2}$
291.	BOOSNAH.		
	R. Bogwangola, 290. -	——	77
	R. *Hurryſongkor*, 318. -	$40\frac{1}{2}$	$117\frac{1}{2}$
	R. *Moddapour*, 90. -	$65\frac{1}{2}$	183
	L. *Baboocally*, Four Miles from Boolnah, 420. - -	$53\frac{1}{2}$	$236\frac{1}{2}$
292.	BUDDAUL, wet Seaſon.		
	L. Tazpour, 332. -	——	$160\frac{1}{2}$
	R. Jubuna River, 52. -	$19\frac{3}{4}$	$180\frac{1}{4}$
	L. Buddaul Aurung, 15. -	$33\frac{1}{4}$	$213\frac{1}{2}$
293.	BURDWAN.		
	Wet Seaſon. *See* 378.	——	319
294.	BURHAMPOUR, *See* 123		11
295.	BUXAR, thro' Patna.		
	By Mauldah - -	——	$451\frac{1}{2}$
	By Rajemal - - -	——	$404\frac{1}{2}$
296.	CALCUTTA, by Nuddeah.		
	Nuddeah, 123. - -	——	$111\frac{1}{2}$
	CALCUTTA, 122. -	$80\frac{1}{2}$	192
297.	Second Route by Sunderbunds.		
	From Bogwangola, to		
	R. *Hurryſongkor*, 318. -	——	$40\frac{1}{2}$
Tides.	R. *Buderaſhon Creek*, 90. -	$139\frac{1}{2}$	180
Tides.	Sutalury, 46. - -	$72\frac{1}{2}$	$252\frac{1}{2}$
Tides.	R. Channell Creek, 92 -	324	$576\frac{1}{2}$
Tides.	R. CALCUTTA, 88. -	$64\frac{1}{2}$	641
298.	Third Route by Baliagot.		
Tides.	Sutalury as before - -	——	$252\frac{1}{2}$
Tides.	Baliagot - -	$246\frac{1}{2}$	499
299.	CALCUTTA, Fourth Route by Gopaulgunge.		
Tides.	R. *Hurryſongkor* as before -	——	$40\frac{1}{2}$
Tides.	R. *Moddapour Creek*, 90. -	$65\frac{1}{2}$	106
Tides.	R. Mouth Rynabad Creek, 420.	166	272
Tides.	Baliagot, 93. - -	212	484
300.	CARAGOLA.		
	By Mauldah, Coſſimbuzar River Head, 123. -	——	52
	R. Caragola, 123. - -	$130\frac{1}{2}$	$182\frac{1}{2}$
	By Rajemal, Coſſimbuzar R. Head - - -	——	52

L. Pointy,

L. Pointy 122. -	79½	131½
R. Caragola - - -	5½	137
301. CAUGMAHRY.		
R. Bogwangola, 290. -	——	77
R. *Hurryſongkor*, 318. -	40½	117½
L. *Pubna*, 90. - -	44¾	162¼
R. *Baljuree*, 91. - -	66¼	228½
R. Attyah, 22. - -	23	251½
R. Caugmahry - -	5½	257
302. CAWNPOUR, thro' Patna.		
By Mauldah - -	——	813½
—— Rajemal - -	——	766½
303. CHANDERNAGORE.		
Tides R. *Nuddeah*, 123. - -	——	111½
Tides R. Chandernagore, 122. -	59½	171
304. CHILMARY.		
Dry Seaſon, thro' Dacca	——	471¼
Wet Seaſon.		
L. *Shazadpour*, 389. -	——	178
Head Jenni River, 64. -	104	282
L. Chilmary, 61. - - -	38½	320½
305. CHINSURAH.		
Tides R. *Nuddeah*, 123. - -	——	111½
Tides R. Chinſurah, 122. -	56½	158
306. CHITTIGONG. *See* 347.		
307. CHUPRAH, thro' Patna.	——	342½
308. CHUNARGUR, through Patna.		
By Mauldah - -	——	559½
---- Rajemal - -	——	512½
309. COLINDA, wet Seaſon.		
L. Luckipour, 351. - -	——	315
Colinda, 32. - -	35¼	350¼
310. COMERCOLLY.		
R. Bogwangola, 290. -	——	77
R. *Hurryſongkor*, 318. -	40½	117½
R. *Cuſtee*, 90. - -	35¾	153¼
L. *Comercolly*, 34. - -	13¼	166½
311. COMILLAH, or TIPERAH, through Dacca	——	360
312. COSSIMBUZAR.	——	6½
313. COOS-BEYHAR.		
Dry Seaſon, through Dacca	——	572
Wet Seaſon.		
Shazadpour, 389. -	——	178
Head Jenni River, 64.	104	282
L. Baggoa, 61. - -	57½	339½
R. Coos-BEYHAR, 37. -	81¾	421¼
314. CULNA in BURDWAN.		
R. *Nuddeah*, 123. - - -	——	111½
R. *Culna*, 122. - - -	13¼	124¾
315. CULNA in JESSORE.		
R. Bogwangola, 290. - -	——	77
R. *Hurryſongkor*, 318. -	40½	117½
Tides. R. *Moddapour Creek*, 90. -	65½	183
R. Mouth Rynabad Creek, 420. - - -	166	349
L. Culna, 93. - -	38	387
316. CULPEE, thro' Calcutta	——	246½
317. CUTWA, 123. -	——	72
318. DACCA.		
R. Bogwangola, 290. (No. XV)	——	77
R. *Codalcotty Gaut* -	9	86
R. *Cutlamary* - -	5	91
L. *Surdah* - -	9	100
L. *Binparah*, (No. XVI.)	10	110
R. *Oppoſite Hurryſongkor* -	7½	117½
L. *Pubna*, 90. - - -	43¼	161
R. *Jaffiergunge*, 91. -	57¼	218
L. *DACCA*, 91. - -	57¼	275½

N. B. The Difference of 3 Miles between this Article and 239, is occaſioned by the cutting off of Angles between Bogwangola and Hurryſongkor.

The Paſſage by Surdah Creek & Chatmol to Dacca, is not eligible downwards; becauſe it leads through *Jeels*, where the Winds are contrary, and often drive the Boats out of the Stream of the River.

319. DECCAN-SHABAZPOUR through Dacca -	——	363¼
320. DEWANGUNGE, (dry Seaſon) through Dacca.	——	451
L. (Wet Seaſon) Shazadpour, 389 - - -	——	178
Head Jenni R. 64. -	104	282
L. Dewangunge, 61. -	18¼	300
321. DINAGEPOUR, 1ſt Route		
R. Iyöe, 123. - -	——	100
L. DINAGEPOUR, 50 -	62	162
Second Route, Purnabubah R. 123. - -	——	88½
DINAGEPOUR, 51. -	73½	162
Third Route, Jaffiergunge, 318. - -	——	218
DINAGEPOUR, 52. -	209	427
Fourth Route from Bogwangola.		
Nabobgunge, 394 -	——	22¾
Tangan R. 123. -	38½	61¼
DINAGEPOUR, 50 -	62	123¼
322. DURBUNGAH, (wet Seaſon.)		
Coſſimbuzar R. Head, 123. -	——	52
R. Caragola Gaut, 123. -	130½	182½
R. Bogmutty R. 122. -	71¼	254¼
L. DURBUNGAH, 53 -	127¼	381½
323. DYNAPOUR, thro' Patna.		
By Mauldah -	——	367
By Rajemal - -	——	320
324. ENGLISH BAZAR. *See* 123. - -	——	106½
From Bogwangola. *See* 394.	——	67¾
325. FATTIGUR, thro' Patna.		
By Mauldah - -	——	895½
By Rajemal - -	——	848½
326. FRINGYBAZAR, through Dacca.	——	288½
327. FYZABAD, thro' Patna.		
By Mauldah - -	——	584
By Rajemal - -	——	537
328. GAZYPOUR, thro' Patna.		
By Mauldah - -	——	347½
By Rajemal - -	——	330½
329. GONGACALLY, through Calcutta.	——	244
330. GOALPARAH, (dry Seaſon) through Dacca -	——	561
(Wet Seaſon), Shazadpour, 389. - - -	——	178
Head Jenni R. 64. -	104	282
R. Goalparah, 61. -	128¼	410

331. GORAGOT,

MOORSHEDABAD TO

331. GORAGOT, (dry Seaſon).		
Shazadpour, 390. -	——	309¼
L. GORAGOT, 68. -	125½	434¾
332. Wet Seaſon.		
R. Bogwangola, 290. -	——	77
L. *Surdah*, 318. -	23	100
L. *Chuppalya Creek*, 145. -	37	137
L. Tazpour, 69. - -	23½	160½
L. Seebgunge, 69. -	44¾	205¼
L. GORAGOT, 68. -	26½	232
333. GOUR.		
Coſſimbuzar R. Head, 123.	——	52
R. Pookarya, (No. XV.) -	10	62
R. Gour. - -	12	74
334. GWAHREE.		
R. *Nuddeah*, 123. - -	——	111½
R. Gwahree. - -	10	121½
N. B. KISHENAGUR lies two Miles in rom Gwahree.		
335. HAJYGUNGE.		
R. Bogwangola, 290. -	——	77
R. *Hurryſongkor*, 318. -	40½	117½
R. *Hajygunge*, 90. -	111	228½
336. HOBIBGUNGE.		
R. Bogwangola, 290. -	——	77
R. *Hurryſongkor*, 318. -	40½	117½
R. *Buderaſhon Creek*, 90. -	139½	257
R. *Hobibgunge*. - -	10	267
337. HOOGLY.		
Nuddeah, 123. -	——	111½
HOOGLY, 122. -	54½	166
338. HURRYAL, (wet Seaſon).		
R. Bogwangola, 290. -	——	77
L. *Surdah*, 318. - -	23	100
L. *Nagorcally*, 145. -	49½	149½
R. Hurryal, 79 - -	10¼	159¾
339. JAFFIERGUNGE, 318.	——	218
340. JAUJESMOW, thro' Patna.		
By Mauldah - -	——	807½
By Rajemal - -	——	760½
341. JELLINGHY.		
R. Bogwangola, 290. -	——	77
R. *Jellinghy*, 122. -	34¾	111¾
342. JELPIGORY.		
R. DINAGEPOUR, 321. -	——	162
L. Jelpigory, 84. - -	80	242
343. JESSORE, or MOORLEY, 359. - -	——	430
344. INCHACOLUS in SILHET, through Dacca, (Wet Seaſon.) -	——	432
Dry Seaſon - -	——	510
345. INJELLEE, through Calcutta - - -	——	276
Tides By Sunderbunds.		
Channel Creek, 297. -	——	576½
R. Injellee, 88. - -	19½	596
346. JOOGDYAH, thro' Dacca	——	397
347. ISLAMABAD, Firſt Route, through Dacca -	——	457¼
R. Second Route, Bogwangola, 290. - - -	——	77
R. *Hurryſongkor*, 318. -	40½	117½
L. *ISLAMABAD*, 90. -	313	430½
348. JUNGIPOUR, 123. -	——	38
349. KISHENAGUR. *See* 334.	——	121½
350. LÄOUR, through Dacca.	——	480
351. LUCKIPOUR, Firſt Route, through Dacca. -	——	342
R. Second Route, Bogwangola, 290. - - -	——	77
Tides R. *Hurryſongkor*, 318. -	40½	117½
L. Luckipour, 90. - -	197½	315
352. MAHMUDPOUR, in Booſnah.		
R. Bogwangola, 290. -	——	77
R. *Hurryſongkor*, 318. -	40½	117½
R. *Moddapour Creek*, 90. -	65½	183
R. *Seergunge*, 4 Miles from MAHMUDPOUR, 420.	59	242
353. MANGEE, through Patna.		
By Mauldah. - -	——	409
By Rajemal. - -	——	362
354. MAULDAH. *See* 123.	——	111
From Bogwangola to Mauldah. *See* 394. -	——	72¼
355. MINDYGAUT, through Patna.		
By Mauldah - -	——	856½
By Rajemal - -		809½
356. MIRZAPOUR, in Allahabad, through Patna.		
By Mauldah - -	——	590
By Rajemal - -	——	543¼
357. MIRZAPOUR on the Hoogly R.		
R. *Nuddeah*, 123. -	——	111½
R. *Mirzapour*, - -	8¾	120¼
358. MONGHIR, by Mauldah-Coſſimbuzar R. Head, 123.	——	52
R. Caragola, 123. -	130½	182½
L. MONGHIR, 122. - -	80	262½
By Rajemal. Bogwangola to MONGHIR, 122. - -	——	185
359. MOORLEY or JESSORE.		
L. Culna in Jeſſore, 315. -	——	387
L. Moorley, 109. - -	43	430
Another route by Bogwangola, Jellinghy, and the Boirub River, in the wet Seaſon. *See* No. I.		
360. MULFUTGUNGE.		
R. Bogwangola, 290. - -	——	77
R. *Hurryſongkor*, 318. - -	40½	117½
R. *Mulſutgunge*, 90. -	157	274½
361. NABOBGUNGE.		
See 123 - -	——	61½
Bogwangola ditto, 394.	——	22¾
362. NAGORE or BIRBOOM.		
Wet Seaſon, *More River*, 123.	——	15
NAGORE, 113. -	65½	80½
363. NARANGUNGE. Thro' Dacca.	——	288
364. NATTORE, (wet Seaſon.)		
R. Bogwangola, 290. -	——	77
L. *Surdah*, 318. - -	23	100
L. *Chuppalya Cr.* 145. -	37	137
L. NATTORE, 115. -	22	159

MOORSHEDABAD TO

Second Route, wet Seaſon.		
L. Bauleah, 283 - -	——	90½
R. *Koppoſeah.* (No. VI.)	8½	99
L. *Pootyah haut.* - -	13	112
L. NATTORE. - -	14	126
Third Route, dry Seaſon.		
R. Jaſſiergunge, 318. -	——	218
L. Sittalya, 52. - -	75¼	293¼
R. NATTORE, 115.	30	323¼
365. NAUTPOUR, by Mauldah.		
R. Caragola, 123.	——	182½
R. Coſa R. Mouth - -	9¼	191¾
L. Nautpour, 116. -	70¾	262½
By Rajemal.		
R. Caragola, 300. - -	——	137
R. Coſa R. Mouth. -	9¼	146¼
L. Nautpour. - -	70¾	217
366. NUDDEAH, 123. -	——	111½
367. NULSHI-IMAUMPOUR.		
Wet Seaſon, *Shazadpour*, 389.	——	178
Nulſhi, 64. - -	36	214
Dry Seaſon, Shazadpour, 390.	——	309¼
Nulſhi. - -	36	345½
368. OUDANULLAH.		
Coſſ. R. Head, 123.	——	52
Oudanulla, 122. -	34	86
369. PACHETE, wet Seaſon.		
See 378. - -		
Dry Seaſon, thro' Calcutta	——	400
370. PATNA.		
By Mauldah, 123.		355½
By Rajemal.		
Coſſ. R. Head, 123. -	——	52
PATNA, 122. - -	256½	308½
From Bogwangola to Patna, by way of Rajemal, -	——	281½
371. PLASSEY, 123. -	——	51
372. POINTY, by Mauldah.		
R. Caragola, 123. -	——	182½
R. Pointy. - -	5½	188
By Rajemal.		
Coſſ. R. Head, 123. -	——	52
L. Pointy, 122.	79½	131½
373. POOTYAH in Luſkerpour.		
See 364. - -	——	112
374. PUBNA, 318. -	——	160¾
375. PURNEAH, wet Seaſon.		
R. Maniahry, 123. -	——	164½
R. PURNEAH, 128. -	35¾	200
376. RAJABARRY, thro' Dacca.		305
377. RAJEMAL, 1ſt Route.		
Coſſimbuzar R. Head, 123.	——	52
L. RAJEMAL, 122. -	41½	93½
Second Route, by Mauldah.		
R. Barramaſſy		
L. Nullah, 123. -	——	133
Nazapour. (No. XV.) -	4¼	137¾
R. *RAJEMAL.* -	7	144¾
378. RAMGUR.		
Firſt Route thro' Calcutta.	——	492
Second Route, wet Seaſon, by Banſbaryah, Bundipour, Selimabad, Burdwan, and Pachete.		
379. RAMGAUT, thro' Patna.		
By Mauldah, - -	——	991½
By Rajemal. - -	——	944½
380. RANGAMATTY.		
(Dry Seaſon) thro' Dacca.	——	532
(Wet Seaſon) *Shazadpour*, 389. - - -		178
Jenni R. Head, 64. -	104	282
L. RANGAMATTY, 61. -	99	381
381. ROTASGUR, thro' Patna.		
By Mauldah - -	——	477½
By Rajemal - -	——	430½
382. RUNGPOUR.		
(Wet Seaſon) L. *Shazadpour*, 389. - -	——	178
R. RUNGPOUR, 137. -	198	376
Dry Seaſon. Shazadpour, 390	——	309½
RUNGPOUR, 137. -	198	507½
383. RYNABAD, Firſt Route.		
R. Bogwangola, 290. -	——	77
Tides L. Sutalury, 399. -	252½	329½
Rynabad, 93. - -	49½	379
Second Route.		
R. Mouth Rynabad Creek, 315.	——	349
R. Rynabad, 93. - -	17	366
384. SAIBGUNGE in Coos Beyhar.		
R. DINAGEPOUR, 321.	——	162
R. Saibgunge, 84. - -	65	227
385. SANTIPOUR.		
R. *Nuddeah*, 123. - -	——	111½
R. *Puleah Haut*, 122. -	25½	137
R. Santipour.	5½	142½
386. SEEBGUNGE, dry Seaſon.		
R. Shazadpour, 390. - -	——	309½
L. Seebgunge, 68. - -	99	408¼
Wet Seaſon. *See* 332.	——	205½
387. SEERPOUR in Mahmanſhy.		
Dry Seaſon, Shazadpour, 390.	——	309¼
L. Seerpour, 68. - -	60½	369¼
(Wet Seaſon). By Surdah, Hurryal, and Burrumcopilea to the Currattya River. *See* No. VI.		
388. SERAMPOUR.		
Tides R. *Nuddeah*, 123. - -	——	111½
R. Serampour, 122. -	67¼	178¼
389. SHAZADPOUR in Yooſufſhi.		
Wet Seaſon.		
Coſſimbuzar R. Head, 123.	——	52
R. *Bogwangola*, 122. -	25	77
L. *Surdah*, 318. - -	23	100
L. *Shazadpour*, 145. - -	78	178
Dry Seaſon. Bogwangola.	——	77
390. R. *Jaffiergunge*, 318. -	141	218
R. Baerah Haut, 52. -	75¼	293¼
L. Shazadpour - -	16	309¼
391. SILHET. Through Dacca		
Wet Seaſon - -	——	530½
Dry Seaſon - - -	——	536
392. SINGHYA. Thro' Patna.		
By Mauldah - -	——	370
By Rajemal - -	——	322½
393. SOOTY. 123.	——	47
394. SULTANPOUR Aurung.		
Wet Seaſon. MAULDAH, 123. - -	——	111

R. Peergunge,

MOORSHEDABAD to

R. Peergunge, No. V. -	9½	120½
R. Sultanpour - - -	18	138½
From Bogwangola, dry Season - - -		
L. Meenkoot - -	——	9
R. Godagary - - - - -	3	12
R. Nabobgunge - - -	10¾	22¾
L. Englifh Bazar, 123. -	45	67¾
L. MAULDAH -	4½	72¼
R. Sultanpour, (as before)	37½	99¾
395. SUNDEEP. Thro' Dacca.	——	405
396. SUNERAMPOUR. Thro' Dacca. - -	——	355
397. SUJATPOUR. Through Dacca. - - - - -	——	398½
398. SURDAH.		
R. Bogwangola, 290. -	——	77
L. *Surdah*, 318. - -	23	100
399. SUTALURY.		
R. Bogwangola, 290. -	——	77
R. *Hurryfongkor*, 318. -	40½	117½
R. *Buderafhon Creek*, 90. -	139½	257
L. Sutalury, 46. - -	72½	329½
400. TERRIAGULLY. By Mauldah.		
R. Hyatpour, 123. (No. XV.)	——	146
L. Siclygully - - -	10½	156½
L. Terriagully - -	11½	168
By Rajemal.		
Coffimbuzar R. Head, 123.	——	52
Terriagully, 122. -	71	123
401. Tiperah or Comillah, thro' Dacca - - -	——	360

Tides.

TABLES of ROUTES and DISTANCES from PATNA through the Principal INLAND NAVIGATIONS.

PATNA to

402.	ALLAHABAD. *See* Article 133. - -	——	316
403.	AZMERIGUNGE. Thro' Dacca - -	——	618
404.	BACKERGUNGE.		
	R. *Hurrisongkor*, 436. -	——	322½
	R. *Buderashon Creek*, 90. -	139½	462
Tides.	R. *Head Sutalury R.* 46. -	60	522
	R. Backergunge - -	11½	533½
405.	BALLITUNGHY, 122.	——	361
406.	BAR. *See* 122. -	——	37
407.	BAULEAH, 122. -	——	354
408.	BENARES, 133. -	——	186
409.	BETTYAH.		
	HAJYPOUR - -	——	4¾
	Bettyah, 11. - -	105	109¾
410.	BOGGAH.		
	HAJYPOUR. - -	——	4¾
	R. Burhuvah, 11. (No. IV.)	91	95¾
	L. Radziapour - -	12¼	108
	L. Piprah - - -	19½	127½
	L. Amouah - - -	15½	143
	R. Chuta Boggah - -	11	154
	L. Banfigaut - - -	7	161
	R. Boggah - - -	14	175
411.	BOGLIPOUR, 122. -	——	139
412.	BOGWANGOLA, 122.	——	281½
413.	BURDWAN. Dry Seafon, through Calcutta -	——	641
	Wet Seafon by Banfbarya, Bundipour, & Selimabad. (No. VII.)		
414.	BURHAMPOUR.		
	Coffimbuzar R. Head, 122.	——	256½
	L. *Burhampour*, 123. -	42	298½
415.	BUXAR, 133. - -	——	96
416.	CALCUTTA, by Jellinghy. *See* 122. -	——	514
417.	By Moorfhedabad.		
	Coffimbuzar R. Head, 122.	——	256½
	L. *CALCUTTA*, 123. -	244	500½
418.	By the Sunderbunds.		
	R. *Hurryfongkor*, 436. -	——	322½
	R. *Buderafhon Creek*, 90. -	139½	462
Tides.	R. *Sutalury*, 146. - -	60	522
	R. CALCUTTA, 92. -	234	846
419.	By Baliagot.		
	Sutalury, as before; -	——	522
	Baliagot, 93. - -	246½	768½
420.	By Gopaulgunge and Baliagot.		
	R. *Hurryfongkor*, 436. -	——	322½
	R. *Moddapour*, 90. - -	65½	388
	R. *Sanaparah.* (No. I.) -	12	400
	L. *Behrpour* - - -	5	405
	R. *Serampour* - -	11	416
	L. *Motrapour* - -	11½	427½
	L. *Head Burrafhee* R. -	7½	435
	L. *Baboocally*, 2½ miles from Boofnah - -	6½	441½
	R. *Seergunge*, 4 *from MAHMUDPOUR* -	5½	447
	L. *Doagotty*, 1½ miles *from Jaynagur* - - -	5	452
	R. *Meergunge* - -	10	462
	L. *Koyrah* - - -	10½	472½
	R. *Kolna* - - -	6	478½
	R. *Moximul* - - -	10½	489
	R. *Gopaulgunge* - -	9	498
	R. *Buranny* - - -	9	507
Tides.	L. Hidjalee - - -	16	523
	L. Maffally - - -	21½	544½
	L. Rycotty Creek - -	7¾	552¼
	R. Mouth Rynabad Creek -	1¾	554
	Baliagot, 93. - -	212	766
421.	CARAGOLAH, 122. -	——	173
422.	CAWNPOUR, 133. -	——	458
423.	CARAMNASSA River. *See* 133. - - -	——	113½
424.	CHANDERNAGORE, by Jellinghy, 122. -	——	493
	By Coffimbuzar River, thro' Moorfhedabad. -	——	479½
425.	CHILMARY, dry Seafon, thro' Dacca. - -	——	676
	Wet Seafon. *See* 447.	——	524½
426.	CHINSURAH, by Jellinghy, 122. - -	——	490
	By Coffimbuzar River, thro' Moorfhedabad. -		476½
427.	CHITTIGONG. *See* Iflamabad, 460.		
428.	CHUNARGUR, 133.	——	204
429.	CHUPRAH, 58. -	——	34
430.	COLGONG, 122. -	——	159½
431.	COMERCOLLY.		
	Hurryfongkor, 436 -	——	322½
	Cufiee, 90. - -	35¼	357¾
	Comercolly - -	13¼	371
432.	COMILLAH or TIPERAH, through Dacca.	——	565
433.	COOS-BEYHAR, dry Seafon, through Dacca. -	——	777
	Wet Seafon. Head Jenni R. 447. - - - -	——	486
	L. Baggoa, 61. - -	57½	543¼
	R. Coos-BEYHAR, 37. -	81¾	625
434.	COSSIMBUZAR.		
	Coffimbuzar R. Head, 122.	——	256½
	L. *COSSIMBUZAR*, 123.	58½	315
435.	COLINDA, wet Seafon.		
	Luckipour, 465. - -	——	520
	Colinda, 32. - -	35¼	555¼
436.	DACCA.		
	L. *Surdah*, 122. - -	——	305
	R. *Hurryfongkor.* - -	17½	322½
	R. *Pubna*, 90. - -	43¼	366
	R. *Jaffiergunge*, 90. -	57¼	423
	L. *DACCA*, 90. - -	57½	480½
	See the Note on 318.		
437.	DAÖUDNAGUR.		
	Moneah, 133. - -	——	22½
	Daöudnagur, 136. -	55¼	77¾

438. DINAGEPOUR, Firſt Route, dry Seaſon.		
L. *Mahanadah River*, 122.	——	263½
R. Jyöe, 123. - -	40¼	303¾
R. DINAGEPOUR, 50. - -	62	365¾
Second Route, dry Seaſon.		
Mahanadah River -	——	263½
R. Purnabuba River, 123. -	28½	292
DINAGEPOUR, 51. -	73½	365½
Wet Seaſon. *Caragola*, 122.	——	173
Jyöe, 123. - -	82¼	275¼
DINAGEPOUR, 50. - -	62	337
439. DURBUNGAH.		
L. *Bogmutty River*, 122. -	——	101¼
R. DURBUNGAH, 53. -	127¼	228½
440. DYNAPOUR. - -	——	11½
441. ENGLISH BAZAR, dry Seaſon.		
L. *Mahanadah R. Mouth*, 122.	——	263½
L. Engliſh Bazar, 123. -	46¾	310¼
Wet Seaſon.		
L. *Caragola*, 122. - -	——	173
R. *Engliſh Bazar*, 123. -	76	249
442. FATTIGUR, 133. -	——	540
443. FATTIPOUR in Sarun.		
R. HAJYPOUR - -	——	4¾
L. Fattipour - - -	38½	43¼
444. FRINGYBAZAR, through Dacca - -	——	493½
445. FYZABAD, 58. -	——	228¾
446. GAZYPOUR, 133. -	——	124
447. GOALPARAH, dry Seaſon, through Dacca. - -	——	766
Wet Seaſon.		
L. *Surdah*, 122. - -	——	305
L. *Shazadpour*, 145. - -	78	383
R. Nulſhi-Imaumpour, 64. -	36	419
Head Jenni River, 64. -	67	486
L. Chilmary, 61 - -	38¼	524¼
L. RANGAMATTY, 61. -	60½	584¾
R. Goalparah, 61. - -	29¼	614
448. GORAGOT, dry Seaſon.		
R. Shazadpour, 501. -	——	504¼
L. GORAGOT, 68. - -	125½	629¾
Wet Seaſon.		
L. *Surdah*, 122. - -	——	305
L. *Chuppalaya Creek*, 148. -	37	342
L. Seebgunge, 69. - -	68¼	410¼
L. GORAGOT, 69. - -	26½	436¾
449. GOUR.		
R. *Pookarya*, 122. - -	——	248
R. Gour, 71. - -	12	260
450. HAJYPOUR. - -	——	4¾
451. HAJYGUNGE.		
R. *Hurryſongkor*, 436. -	——	322½
R. *Hajygunge*, 90. - -	111	433½
452. HOOGLY.		
By Jellinghy, 122. -	——	488
By the Coſſimbuzar River, through Moorſhedabad.	——	474½
453. HURRYAL, wet Seaſon.		
L. *Surdah* 122. -	——	305
L. *Nagorcally*, 145. - -	49½	354½
R. Hurryal, 79. - -	10¼	364¾
454. JAFFIERGUNGE. *See* 436. - -	——	423
455. JANGUIRA. *See* 122.	——	118½
456. JAUJEMOW. *See* 133.	——	452
457. JELLINGHY. *See* 122.	——	316
458. JELPIGORY.		
DINAGEPOUR, 438. -	——	366
Jelpigory, 84. - -	80	446
459. INJELLEE, Firſt Route, through Calcutta -	——	584½
Second Route, by the Sunderbunds.		
R. Sutalury, 418. - -	——	522
Channel Creek, 92. -	259½	781½
R. Injellee, 88. - -	84½	866
460. ISLAMABAD or CHITTIGONG. Firſt Route thro' Dacca - - - -	——	662
Second Route.		
L. *Hurryſongkor*, 436. -	——	322½
L. ISLAMABAD, 90. -	313	635½
Third Route, wet Seaſon.		
L. *Luckipour*, 465. - -	——	520
ISLAMABAD, 228. - -	103½	623½
461. KANOGE.		
Mindy Gaut, 133. -	——	501
KANOGE. (No. X.) - -	6	507
462. KARNOWL.		
R. HAJYPOUR - -	——	4¾
R. Karnowl, 11. - -	59	63¾
463. KISHENAGUR.		
Gwahree, 122. - -	——	423½
Kiſhenagur lies Two Miles inland from Gwahree.		
464. LOW COOTY.		
L. *Bogmutty River*, 122. -	——	101½
L. Low Cooty, 53. - -	47¾	149
465. LUCKIPOUR. Firſt Route, through Dacca -	——	456¾
Second Route.		
R. *Hurryſongkor*, 436. -	——	322½
L. *Luckipour*, 90. - -	197½	520
466. MAHMUDPOUR in BOOSNAH. *See* 420.	——	447
467. MANGEE. *See* 58. -	——	51¼
468. MAULDAH, dry Seaſon.		
L. *Mahanada River*, 122. -	——	263½
R. MAULDAH, 123. -	51¼	314¾
Wet Seaſon.		
L. *Caragola*, 122. - -	——	173
L. *MAULDAH*, 123. -	71½	244½
469. MAWBELLIPOUR.		
L. Moneah, 133. - -	——	22½
L. Mawbellipour, 136. -	25½	48
470. MINDY GAUT. *See* 133.	——	501
471. MIRZAPOUR in Allahabad. *See* 133. -	——	235

PATNA to

472. MONEAH, 133. -	——	22½
473. MONGHIR, 122. - -	——	96½
474. MOORLEY or JESSORE, dry Seaſon. - -		
Tides. R. *Sutalury*, 418. - -	——	522
L. Jeſſore Culna, 93. - -	72½	594½
L. MOORLEY, 109. - -	43	637½
Wet Seaſon. By Jellinghy, and the Boirub River. *See* No. I. -		
475. MOORSHEDABAD.		
R. *Coſſimbuzar River Head*, 122.	——	256½
L. *MOORSHEDABAD Lolbaug* - - } 123.	52	308½
476. MOWAH, Firſt Route.		
L. *Dalalpour*, 122 - -	——	47
R. Mowah - -	7½	54½
Second Route, *Byar Nulla*, 122. - -	——	61½
Mowah, 110. - -	23	84½
477. NABOBGUNGE near Mauldah.		
L. *Mahanada River*, 122. -	——	263½
R. Nabobgunge - -	1¾	265¼
478. NAGORE or BIRBOOM. Wet Seaſon only, through Moorſhedabad -	——	388½
479. NAGORBUSSEY.		
L. *Bogmutty River*, 122. -	——	101¼
L. Buckiah River, 53. - -	117¼	218½
R. Nagorbuſſey - -	15	233½
480. NARANGUNGE, through Dacca - - -	——	493
481. NATTORE, dry Seaſon.		
R. *Jaffiergunge*, 436. -	——	423
L. Sittalya, 52. - -	75¼	498¼
R. NATTORE, 115. - -	30	538¼
Wet Seaſon.		
L. *Surdah*, 122. - -	——	305
L. *Chuppalya Creek*, 145. -	37	342
R. NATTORE, 115. -	22	364
482. NAUTPOUR.		
L. *Coſah River*, 122. -	——	164
L. Nautpour, 116. - -	70¾	230¾
483. NUDDEAH. By Jellinghy. *See* 122.	——	433½
Second Route, thro' Moorſhedabad - -	——	420
484. NULSHI IMAUMPOUR, dry Seaſon.		
L. *Shazadpour*, 501. - -	——	504¼
R. Nulſhi, 64. - -	36	540¼
Wet Seaſon. *See* 447. -	——	419
485. OUDANULLA, 122. -	——	222½
486. PACHETE. Dry Seaſon, thro' Calcutta	——	721
Wet Seaſon, by Banſbarya, Bundipour, Selimabad, and Burdwan. (No. VII.)		
487. PLASSEY, thro' Moorſhedabad - - -	——	359½
488. POINTY. *See* 122. -	——	177
489. PURNEAH, wet Seaſon. *Caragola*, 122. - -	——	173
Nabobgunge, 123. - -	15½	188½
PURNEAH, 128. -	33¼	221¾
490. PUBNA, 436. - -	——	365¾
491. RAJEMAL, 122. - -	——	215
492. RAJOWLY, 122. - -	——	39
493. RAMGUR, dry Seaſon, through Calcutta - -	——	814
Wet Seaſon, by Banſbarya, Bundipour, Selimabad, Burdwan and Pachete. (No. VII.)		
494. RAMGAUT. *See* 133.	——	636
495. RANGAMATTY, dry Seaſon, through Dacca -	——	737
Wet Seaſon. *See* 447. -	——	584¾
496. ROTASGUR, wet Seaſon.		
L. Moneah, 133. - -	——	22½
R. ROTASGUR, 136. -	99½	122
497. RUNGPOUR, dry Seaſon.		
L. *Shazadpour*, 501. -	——	504¼
R. RUNGPOUR, 137. - -	198	702¾
Wet Seaſon.		
L. *Shazadpour*, 502. - -	——	383
R. RUNGPOUR, 137. - -	198	581
498. SAIBGUNGE, in Coos-Beyhar.		
R. DINAGEPOUR, 438. - -	——	365¾
R. Saibgunge, 84. - -	65	430¾
499. SEEBGUNGE, dry Seaſon.		
L. Shazadpour, 501. - -	——	504¼
L. Seebgunge, 68. - -	99	603¼
Wet Seaſon. *See* Goragot, 448. - - -	——	410¼
500. SINGHYAH.		
R. HAJYPOUR - -	——	4¾
R. Singhyah - -	14	18¾
501. SHAZADPOUR in YOOSUFSHI. Dry Seaſon.		
L. *Jaffiergunge*, 436. - -	——	423
R. Baërah Haut, 52. - -	75¼	498¼
L. Shazadpour, 16. - -	16	504¼
502. Wet Seaſon.		
L. *Surdah*, 122. - -	——	305
L. *Shazadpour*, 145. - -	78	383
503. SILHET, through Dacca.		
Dry Seaſon - -	——	741
Wet Seaſon - -	——	708
504. SOOTY.		
R. *Coſſimbuzar River Head*, 122.	——	256½
R. *Sooty* - - -	5	261½
505. SUAGRA.		
Nurhun, 58. - -	——	75¼
Durowly. (No. IV.) -	10	85¼
Gutini - - -	8¼	93½
Suagra - - -	6½	100
506. SUNDEEP, thro' Dacca.	——	610
507. SURDAH, 122. - -	——	305
508. SUTALURY, 418. -	——	522
509. TERRIAGULLY, 122.	——	185¼
510. TIPERAH or COMILLAH, thro' Dacca. - -	——	565

AREA of the BENGAL PROVINCES,

IN SQUARE BRITISH MILES.

N. B. A ſquare Mile contains 640 Acres: or 1936 Beagers of 1600 ſquare Yards each.

BENGAL.

	Square Miles.	Square Miles.
Ahmirabads	—	127
Attyah		787
Birboom		3,858
Biſſunpour		1,256
Burbazzoo		468
Burdwan		5,174
Caugmahry		374
Chittigong		2,987
Chogong		51
Chunacally		269
Chundli		180
Coos-Beyhar		1,302
Dacca (proper)	13,567	
Curribarry	869	
Sundeep	167	
Bominy	56	15,397
Deccan Shabazpour	337	
Hattiah	165	
Iſlands in the Mouth of the Ganges	236	
Dinagepour	3,289	
Callygong	70	3,519
Bajoohow	160	
Duttya-Janguirpour		33
Futtaſing		259
Goragot		1,232
Hoogly and Injellee	1,798	
Company's Lands	882	2,818
Saatſi	138	
Janguirpour	203	
Barbuckpour	159	597
Moſeedah	153	
Pooſtolé	82	
Jeſſore		1,365
Iſlamabad		62
Kiſhenagur		3,151
Luſkerpour		499
Mahmudſhi		844
Mauldah		168
Midnapour		6,102
Pachete		2,779
Purneah	4,978	
Boherrah	39	5,119
Delawrpour	102	
Purruah		24
Rajemal	2,042	
Coſſimpour	42	2,217
Malduar	56	
Surore	77	
Rangamatty		2,629
Raujeſhy (proper)	4,071	
Bettooriah	3,942	
Booſnah	2,230	
Pookareeah	711	
Baharbund	520	
Bittrebund	221	12,909
Patladah	487	
Surroopour	249	
Cotwally-Hoſſainpour	65	
Barbuckſing	81	
Shahjole	321	
Rungpour	2,161	2,679
Bootis-Hazary	518	
Shilberis		264
Silhet		2,861
Sunderbunds		6,183
Tarpour		83
Tiperah low Lands 1,368 / Woods 5,250	—	6,618
Total of Bengal		97,244

BAHAR.

	Square Miles.	Square Miles.
Bahar (proper)	6,680	
Bettyah	2,546	
Chuta-Nagpour	6,965	
Burwah	552	9,329
Toree	1,022	
Koondah	790	
Hajypour	2,782	
Monghir, viz		
Boglipour	2,817	
Curruckpour and Hendooah	2,696	8,270
Curruckdea, &c.	2,757	
Palamow		4,137
Ramgur		5,087
Rotas		3,680
Sarun		2,560
Shawabad		1,869
Tyroot		5,033
Total of Bahar		51,973
Total of Bengal and Bahar		149,217

A MAP OF
BENGAL and BAHAR:
In VIII Parts.

GENERAL EXPLANATION.

Cities.	Post Roads.
Capitals of Provinces.	Common Roads.
Large Towns.	Passes.
Large Bazars & Cutcherries.	Fields of Battle.
Small do.	Boundaries of Bengal & Bahar.
Villages.	Boundaries of Provinces, &c.
Forts.	

INDEX to the VIII *DIVISIONS* of BENGAL and BAHAR.



Publish'd according to Act of Parliament by J. Rennell, Nov.r 1.st 1779.

MOORSHEDABAD
COSSIMBUZAR
Berhampour
FUTTA CHUNAR
Beldanga
Ballitunghy
Plaisey
Cutwa
Ahgadeep
Nuddea
KISHENAGUR
Culna
Santipour
Amboa
Sirinagur
HOOGLY
Chinsura
Chandernagore
Serampour
Barnagore
CALCUTTA
Fort William
Budgebudge
Fulta
Nulluah
Culpee
Jellinghy
Sibnibas
Jengergutcha
Buxipour
Jennidah
Mirjanagur
Cuficee
Pubna
Comercolly
MOORLEY
NULDINGAH
MAHMUDPOUR
Jaynagur
Boosnah
Ruttungunge
Jaffiergunge
Colna
Gopaulgunge
Culna
Renabad
Pialapour
PLATPASSAR
Saapour
Hajygunge
Hobibgunge
Sutalury
Charcolly
Gurnady
Backergunge
Barrasaut
Jessore
Meridian of Calcutta.
Barratulla R.
Subter-mooky R.
Sagor I.
Junerah R.
Bulcherry I.
Roymatla R.
Bangadoony R.
Bangadoony I.
Gua-Suba R.
Roymungul R.
Mollinchew R.
Putney I.
Burrapungah R.
Panuneah I.
Murjattah R.
Bangarah R.
Hooringottah R.
BAY OF BE
Published according to Act of Parliament by J.

N. 1.

The DELTA OF THE GANGES; with the ADJACENT COUNTRIES on the EAST: Comprehending the southern inland Navigation.

Inscribed to FRANCIS RUSSELL Esq.

By his affec.te friend J. Rennell.

British Miles

Saapour
Chegarcunna
Callaby
Hussamabad
Jabobgunge
Jamsee
Dacca
Fattullah
Sunergong
Meghna R.
Narangunge
Kerrantpour
Moras
Solagar
Mudjin
Rarjeeat
Veerapour
Ballapunge
Eringybazar
Suragabad
Rajabarry
Nullua
Rajanagur
Chandpour
Matlingagunge
Nursingpour
Biggarypara
Boyra
Chamderhaut
Calkenny
Zengomara
Serampour
Gurnady
Idrackpour
Gundishora
Chamatkunda
Mudapassa
Chharpour
Sutalury
Moddipour
Backergunge
Madrapour
Mendah R.
Lowcotty
Adampour
Dispara
Colera
Rabnabad R.
Mouth of the GANGES
Dommanic Is.
Rabnabad R.
Sooteah R.
Singhi Bridge
Solapour
Sabnar
Jamtter
Sibdy
Vansara
Mohapara
Deurah
Lasskir R.
Gomut R.
Sahacoudy
Jaffergunge
Gopalmagur
COMILLAH
Matchmacal
Charrattbanca
Chandrahaut
Mutlingagunge
Chandpour
Dackscah R.
Sandy
Baggrah
Monohar
Rokundy
Joarrah
Derramarunge
Dumarya
Jaynabads
Lucky kipour
Bullooah
Ramsunker
Monorhaim
Santasheeta
Comercally
Hinchah R.
Currymulla Pt.
DECCAN SHABAZPOUR I.
HATTIA I.
SUNDEEP I.
Moncoorah I.
Gonatchy
Lohapara
SAMOOLAGUR or SUMOOKGUR Fort near Bankibazar
1. Part of Mahmadshi
2. Paulpassar
3. Birboom
4. Hoogly
Gomut R.
Deulpoor
Kundal
Amanagunge
Meerca ferai
Sfetacoon
Chittigong R.
Sunkar R.
Cuttupdea I.
ISLAMABAD
MASCAL I.
Red Crab I.
Ramoo
Barmpalong
Kutgong
Cruzcool R.
Seabeeah
Rosegunt
Pukeit
Chuckeria
Rocky R.
Tek-naaf
Mayu
Kyouk
Sampanutty
Jugabilly
Milack
Hare cyland
Capuya
Bunsee
Chandeela
Conchangunge
Durangun
Rambartoli
Sarseeonga
Gidjee
Hattiya
Durance
Sandi
Emanutte
Jyllia
Mudgar
Pink
Mahamy
Bere
Cox's Bazar
Ramoo
Rejee R.
Barmpalong
Meghna Mouths
Bay of BENGAL

Engraved according to Act of Parliament by J. Rennell Dec.r 21.st 1778.

TO

Brigadier General

RICHARD SMITH,

This MAP is Inscribed

By his most obed.t Ser.t

J. Rennell.

British Miles

BAHAR

BAHAR

PROPER

RAMGUR

PACHETE

1. Ochwally.
2. Hossaunpour.
3. Futhipour.
4. Barbucksing.
5. Showly.

Published according to Act of Parliament

N.° II.

The JUNGLETERRY DISTRICT;

with the adjacent *PROVINCES of*

BIRBOOM, RAJEMAL, BOGLIPOUR &c.;

Comprehending the COUNTRIES

Situated between Moorshedabad

and Bahar.

PURNEAH

PURNEA

Bowanipour

Mohanpour

Bellocah

Nimagur

Jagatpour

Baronah

Amty

Gaut

Nuaggur

Kollimpour

Pointy

Caragola

Colgong

BOGLIPOUR

Champernagur

Bogariah

Darra

Turee

Noony

Sarhaut

Rajemal

Oudanulla

Mauldah

English Bazar

Rohanpour

Sooty

Jungipour

Dewanserai

Bogwangola

Bernagur

Moorshedabad

Cossimbuzar

Burhampour

Jummucundy

Ballitunghy

Plassey

Cutwa

Ahgahdeep

Nabobgunge

Patchwarry

Birkooty

Seerpour

Soory

Surrool

Soopour

Lacaracoonda

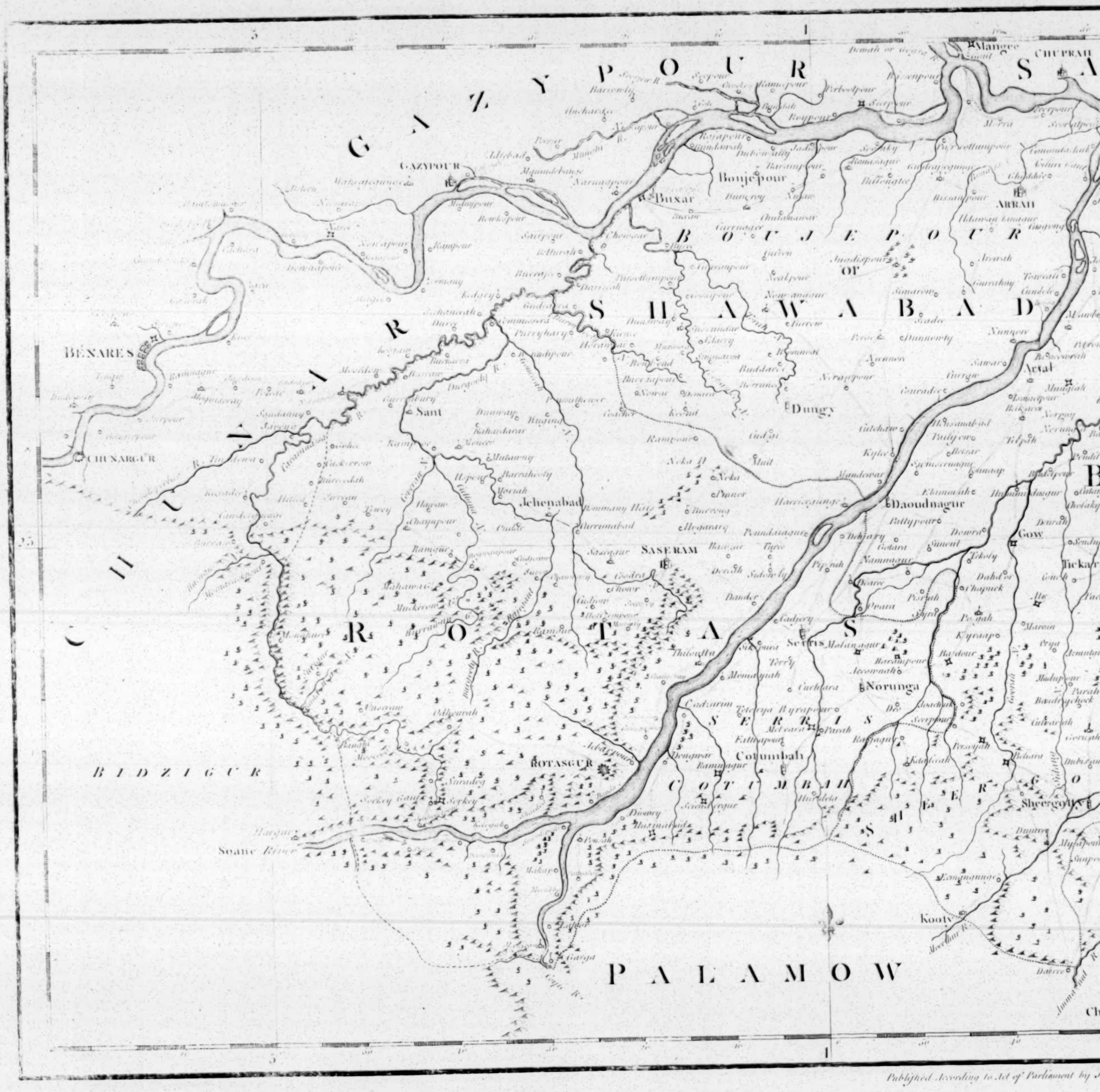
Nagori

Rajemahl Hills

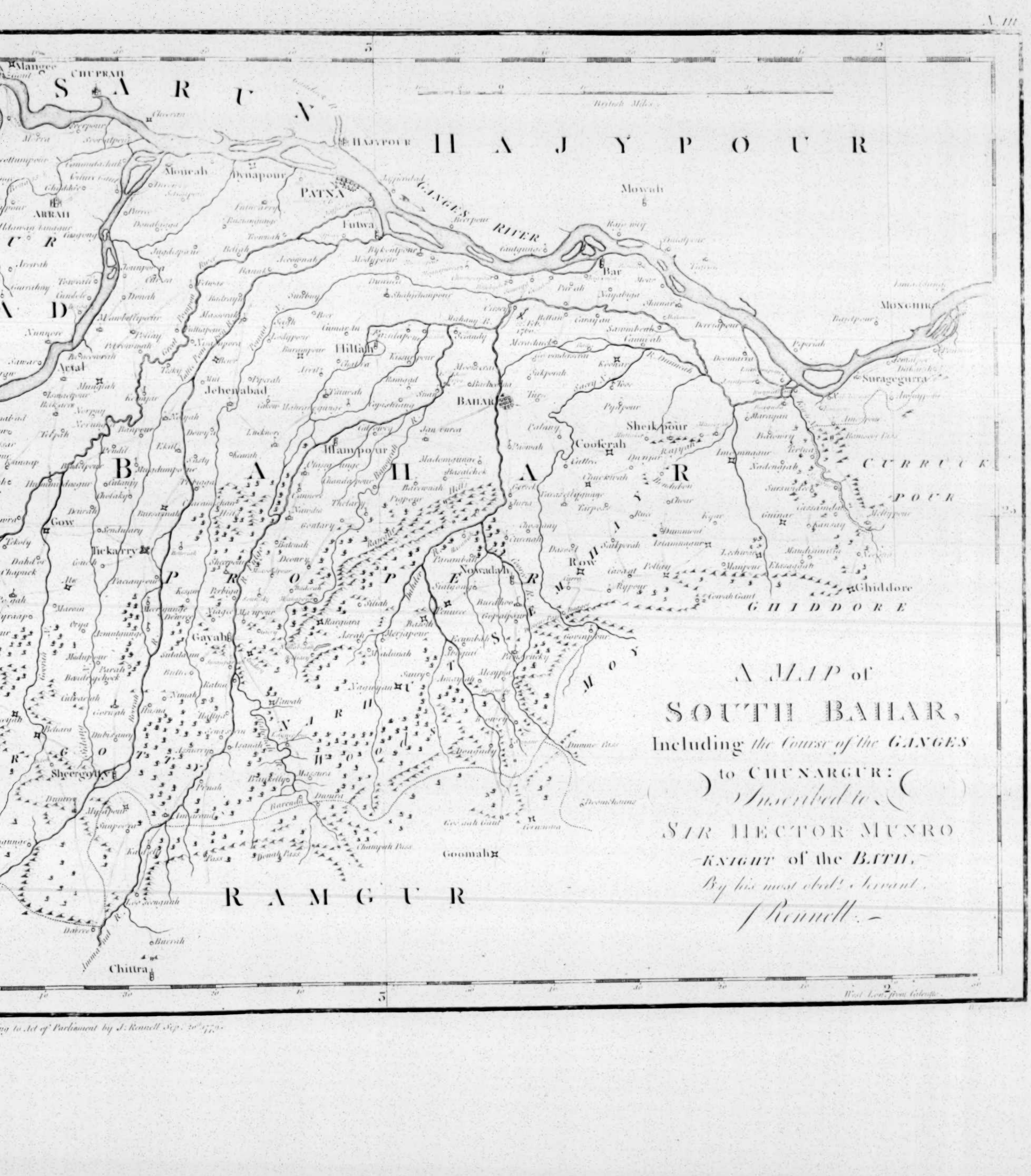
Sooty Hills

Meridian of Calcutta

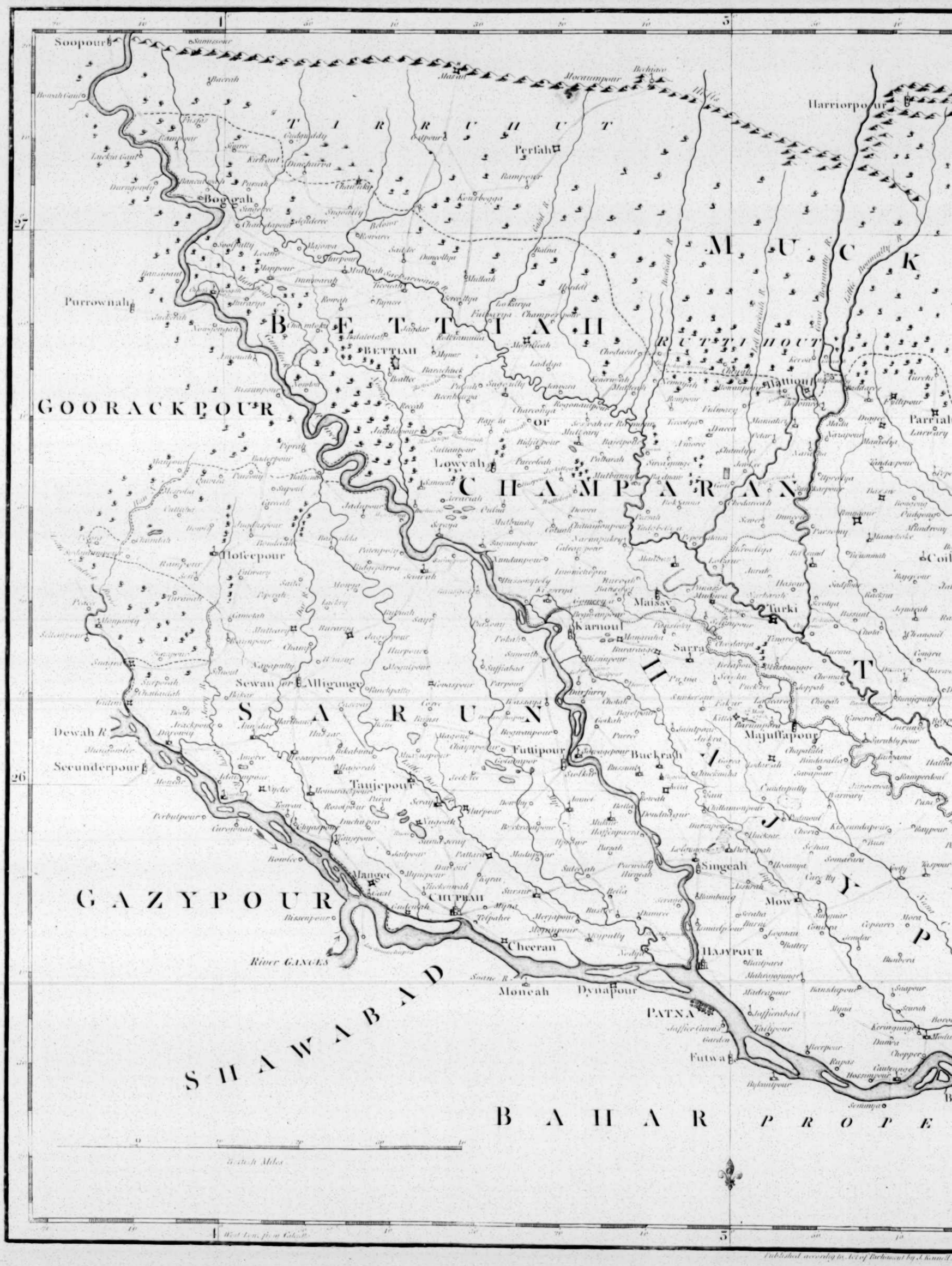
According to Act of Parliament by J. Rennell, June 1st 1779.



Published According to Act of Parliament by



ng to Act of Parliament by J. Rennell Sep.r 20.th 1779.


Soopour
Summeesur
Bacorah
Bowrah Canal
Fuslah
Rampour
Lucky Canal
Kurkaut
Purrownah
Bogurah
Chandaipour
Majowa
Purpour
Mujjeah
Bansiwaut
Mullah
Rowah
Bettiah
Goorackpour
Lowwah
Hotteepour
Sewan or Mligunge
Dewah R.
Secunderpour
Taujepour
Mangee
Chuprah
Gazypour
River Ganges
Shawabad
Moneah
Dynapour
Patna
Futwah
Bykuntpour
Hossunpour
Semmya
Tirrhutt
Perlah
Rampoor
Chaundkij
Kourbogga
Gilab R.
Majna
Dumvalya
Mullah
Ulodeh
Lokurya
Champerpoor
Mocatumpour
Bichiaco
Harriorpour
Rutteehout
Mallon
Parriah
Lurwary
Champaran
Maissy
Turki
Karnoul
Sarra
Nurfurry
Futtipour
Buckrah
Majullapour
Singeah
Mow
Hajypour
Sarun
Tirhut
Jyp
Bahar Prope
Mutlah
Sacharoowah R.
Baltra R.
Bagmutty R.
Little Bagmutty R.
Bhoorsah R.
Bhoorsah R.
Bhoorsah

A MAP of NORTH BAHAR;

Inscribed to

BRIGADIER GENERAL

JOHN CAILLAUD,

By his most obedient Servt

J Rennell.

Scotch Feet taken in 1767

Gundukee R.

Chumbaul

Little Gunduck R.

Cosy or Kausick River

Gogary R.

Nepal Intended Road 1767

Parriah

Coille

Jenjapour

DURBUNGAH

Nagorbussy

Mowyah

Bar

Belliah

Lokohar

AMMERPOUR

Nautpour

Purfaunnia

Bowanipour

Bergagur

MONGHIR

BOGLIPOUR

Suragegurah

MORUNG

PURNEAH

TYROOT

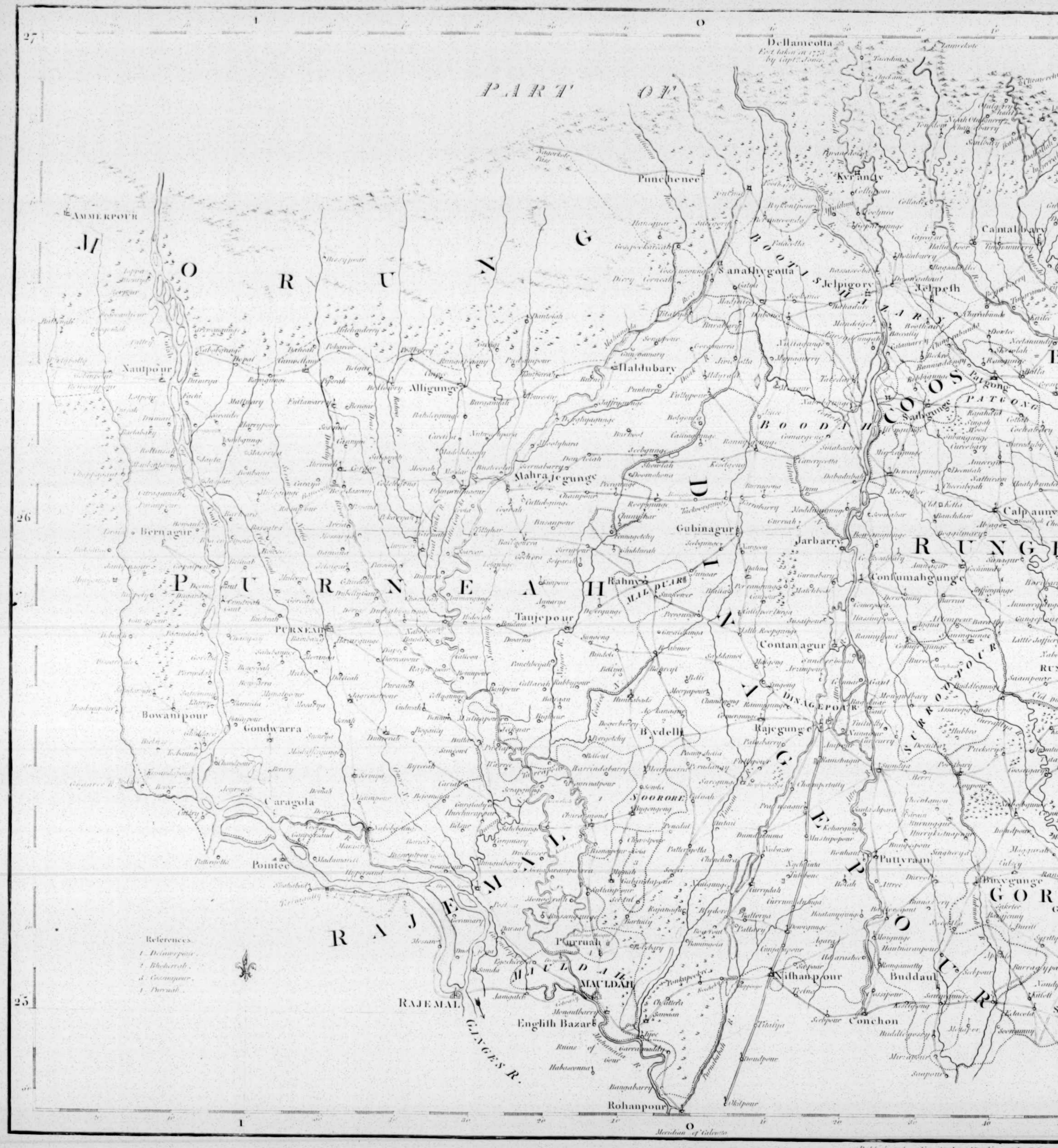
COSWANVY

CHOY

PUTTEER

OUDURKYAH

FURKYAH



Published According to Act of Parliament by J. Rennell

The NORTHERN PROVINCES of BENGAL; with the BOOTAN, MORUNG, & ASSAM FRONTIERS:

Inscribed to

HUGH INGLIS ESQ.R

By his affectionate Friend

J Rennell.

Act of Parliament by J. Rennell August 15. 1779.

DINAGEPOUR

GORAGOT

GORAGOT

CURRIBARRY

BURRAMPOOTER R.

MAULDAH

English Bazar

MOSEEDA

Conchon

JAN GIERPOUR

BEERBUCKPOUR

Rohanpour

Doolabarry

CALLIGONG

CHUNDELI

Nabobgunge

Bowanigunge

TARPOUR

Chogong

NATTORE

Dewangunge

Sheerpour

Moodupour

Bygonbarry

Dewangeraí

Bogwangola

Baulteah

Pootya

Nulthi

Nowgong

Belaeuchy

BERNAGUR

Hurryal

Caugmahry

MOORSHEDABAD

COSSIMBUZAR

Jellinghy

Chamtol

Shazadpour

Auiva

PUCCULOA

Burhampour

Pubna

Cutiee

Comercolly

Ruttungunge

Jafhiergunge

Pialapour

Dumrov

Saapour

JESSHY

BOOSNAH

GANGES R.

British Miles

References

1. Part of Bellooriah
2. Muttipa Jonguipour
3. Part of Dacca
4. Gullah Purgunnah
5. Part of Gungmatty

Meridian of Calcutta

Published according to Act of Parliament by J. R